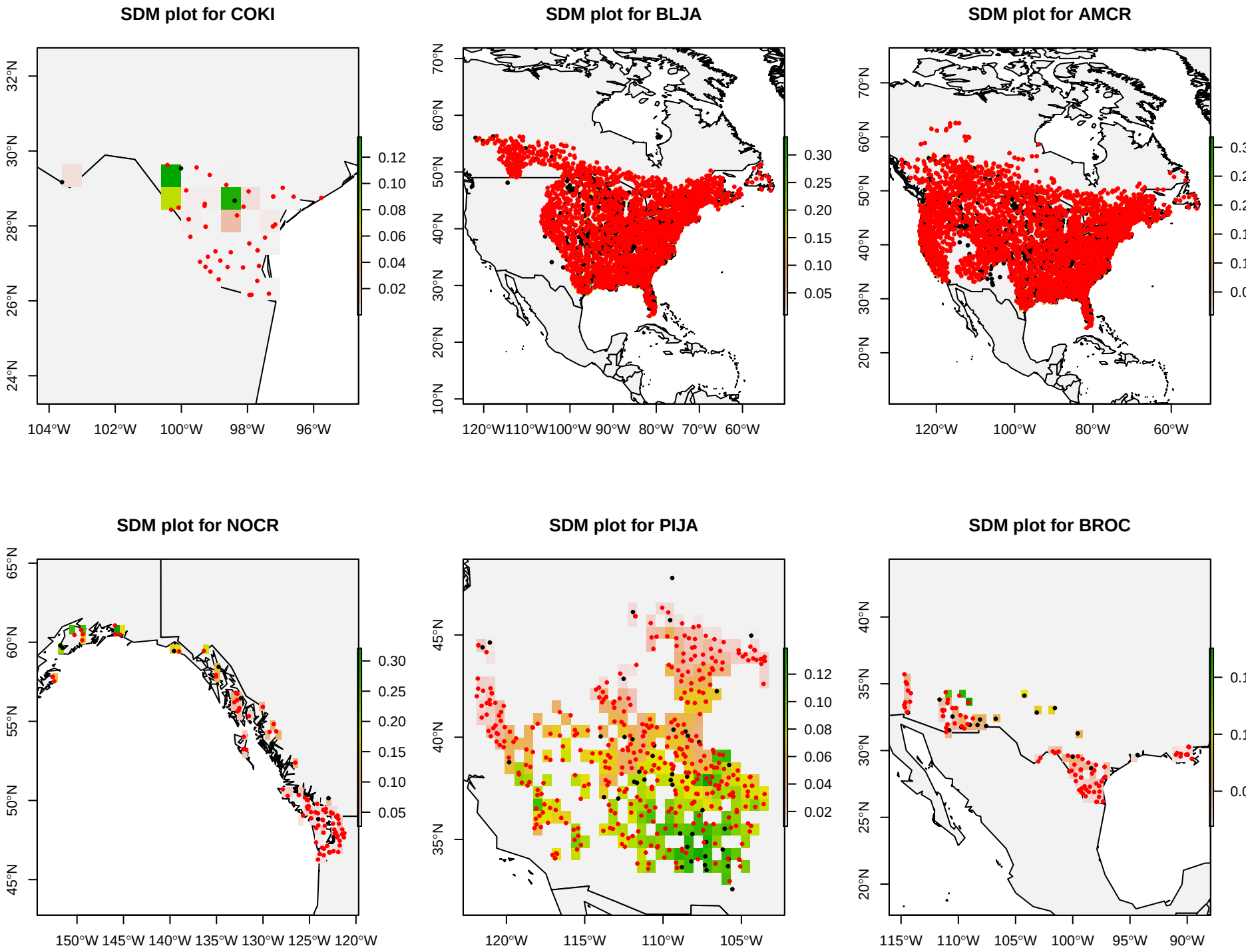
SDM plot for COKI
32°N
30°N
28°N
26°N
24°N
104°W
102°W
100°W
98°W
96°W
0.12
0.10
0.08
0.06
0.04
0.02
SDM plot for BLJA
70°N
60°N
50°N
40°N
30°N
20°N
10°N
120°W
110°W
100°W
90°W
80°W
70°W
60°W
0.30
0.25
0.20
0.15
0.10
0.05
SDM plot for AMCR
70°N
60°N
50°N
40°N
30°N
20°N
120°W
100°W
80°W
60°W
SDM plot for NOCR
65°N
60°N
55°N
50°N
45°N
150°W
145°W
140°W
135°W
130°W
125°W
120°W
0.30
0.25
0.20
0.15
0.10
0.05
SDM plot for PIJA
45°N
40°N
35°N
120°W
115°W
110°W
105°W
0.12
0.10
0.08
0.06
0.04
0.02
SDM plot for BROC
40°N
35°N
30°N
25°N
20°N
115°W
110°W
105°W
100°W
95°W
90°W

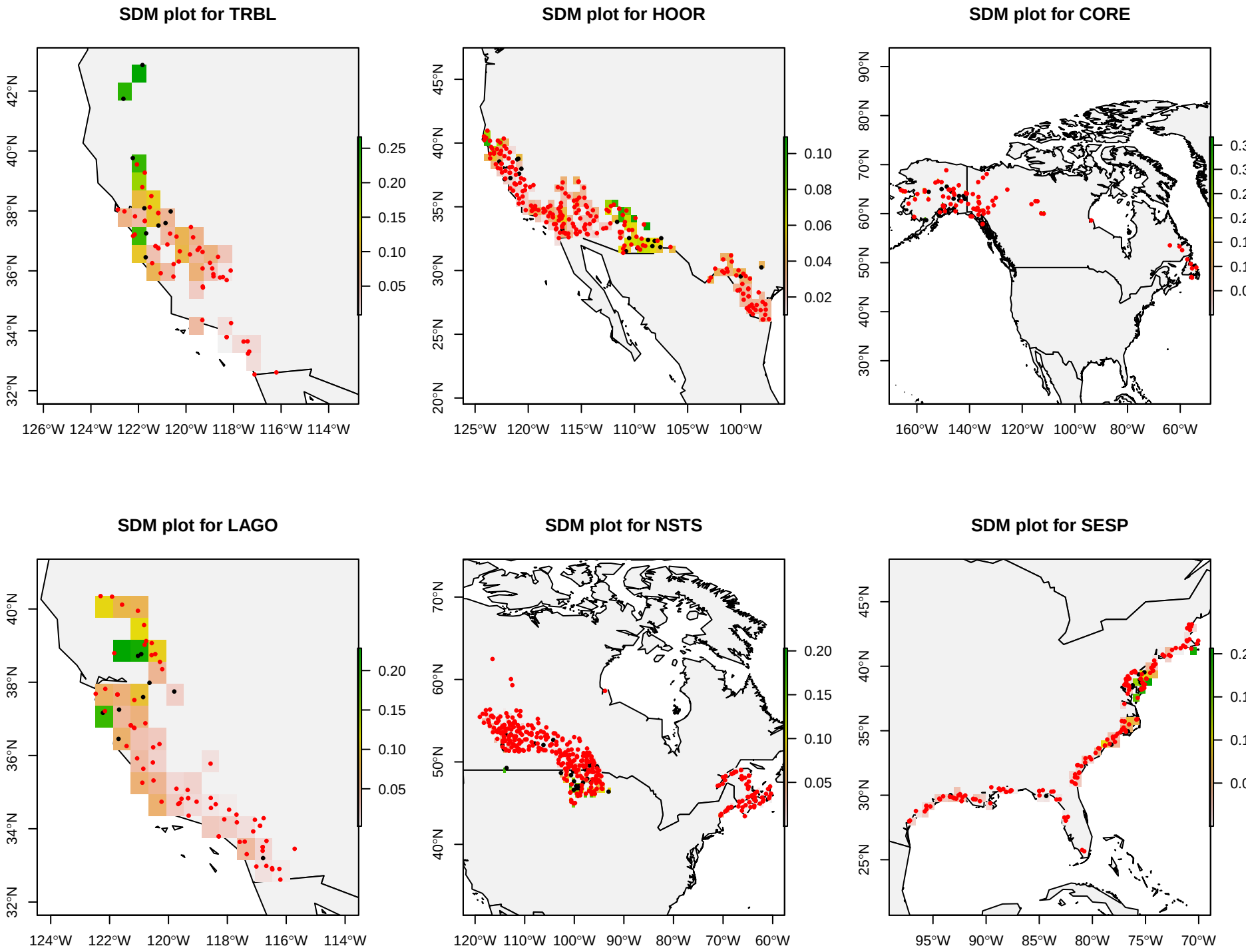
SDM plot for TRBL
42°N
40°N
38°N
36°N
34°N
32°N
126°W 124°W 122°W 120°W 118°W 116°W 114°W
0.25
0.20
0.15
0.10
0.05
SDM plot for HOOR
45°N
40°N
35°N
30°N
25°N
20°N
125°W 120°W 115°W 110°W 105°W 100°W
0.10
0.08
0.06
0.04
0.02
SDM plot for CORE
90°N
80°N
70°N
60°N
50°N
40°N
30°N
160°W 140°W 120°W 100°W 80°W 60°W
SDM plot for LAGO
40°N
38°N
36°N
34°N
32°N
124°W 122°W 120°W 118°W 116°W 114°W
0.20
0.15
0.10
0.05
SDM plot for NSTS
70°N
60°N
50°N
40°N
120°W 110°W 100°W 90°W 80°W 70°W 60°W
0.20
0.15
0.10
0.05
SDM plot for SESP
45°N
40°N
35°N
30°N
25°N
95°W 90°W 85°W 80°W 75°W 70°W

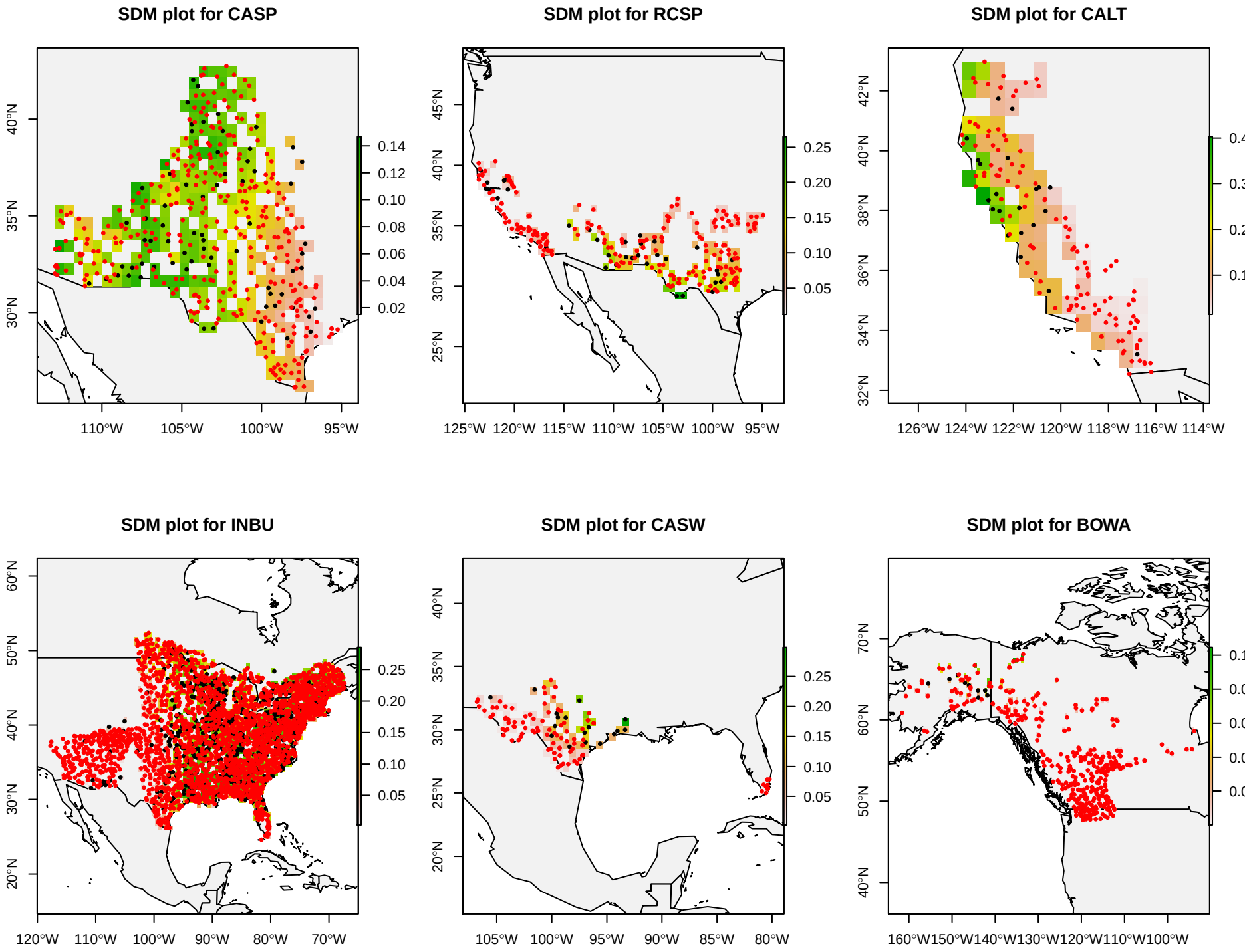
SDM plot for CASP
40°N
35°N
30°N
110°W
105°W
100°W
95°W
0.14
0.12
0.10
0.08
0.06
0.04
0.02
SDM plot for RCSP
45°N
40°N
35°N
30°N
25°N
125°W
120°W
115°W
110°W
105°W
100°W
95°W
0.25
0.20
0.15
0.10
0.05
SDM plot for CALT
42°N
40°N
38°N
36°N
34°N
32°N
126°W
124°W
122°W
120°W
118°W
116°W
114°W
SDM plot for INBU
60°N
50°N
40°N
30°N
20°N
120°W
110°W
100°W
90°W
80°W
70°W
0.25
0.20
0.15
0.10
0.05
SDM plot for CASW
40°N
35°N
30°N
25°N
20°N
105°W
100°W
95°W
90°W
85°W
80°W
0.25
0.20
0.15
0.10
0.05
SDM plot for BOWA
70°N
60°N
50°N
40°N
160°W
150°W
140°W
130°W
120°W
110°W
100°W

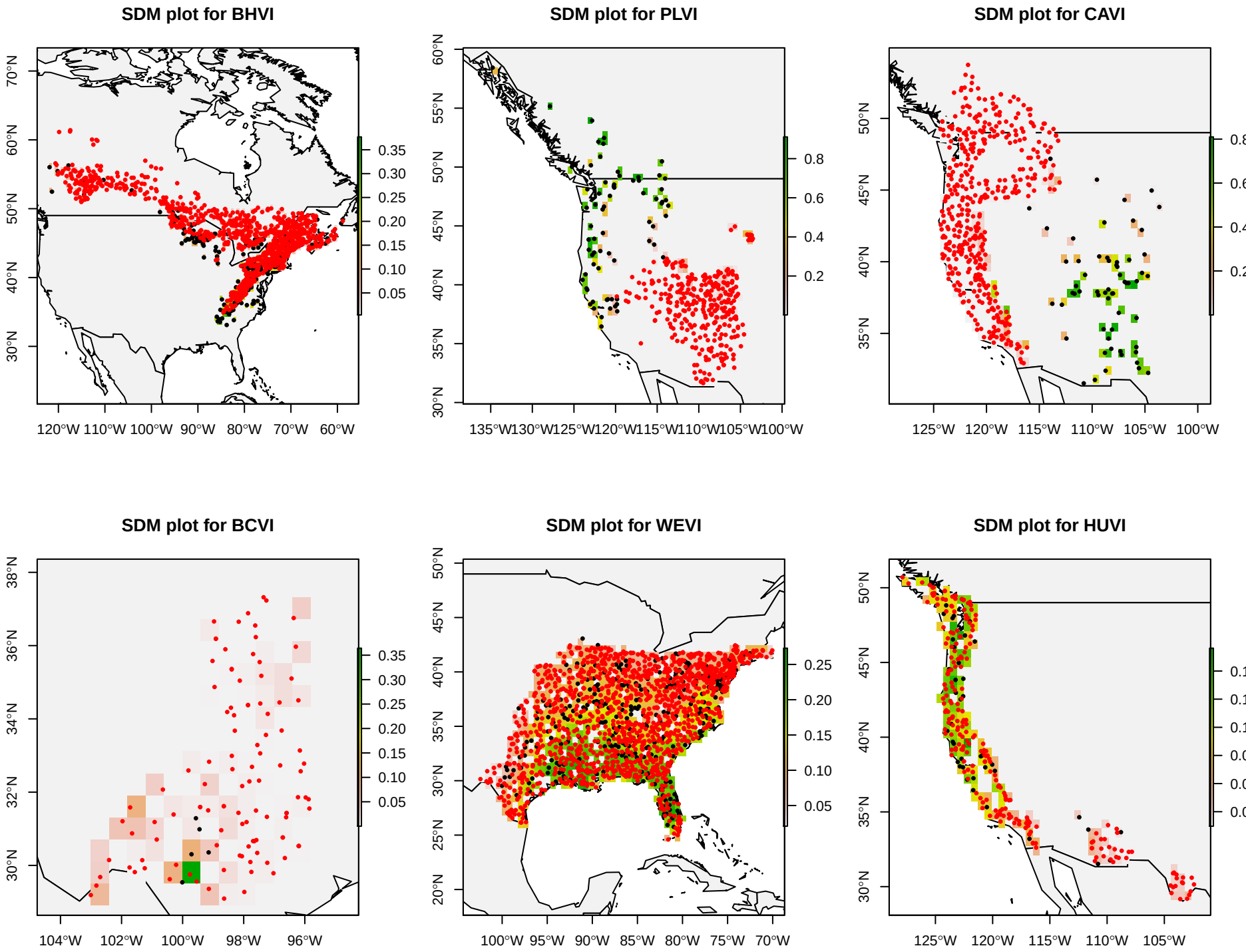
SDM plot for BHVI
70°N
60°N
50°N
40°N
30°N
120°W 110°W 100°W 90°W 80°W 70°W 60°W
0.35
0.30
0.25
0.20
0.15
0.10
0.05
SDM plot for PLVI
60°N
55°N
50°N
45°N
40°N
35°N
30°N
135°W130°W125°W120°W115°W110°W105°W100°W
0.8
0.6
0.4
0.2
SDM plot for CAVI
50°N
45°N
40°N
35°N
125°W 120°W 115°W 110°W 105°W 100°W
SDM plot for BCVI
38°N
36°N
34°N
32°N
30°N
104°W 102°W 100°W 98°W 96°W
0.35
0.30
0.25
0.20
0.15
0.10
0.05
SDM plot for WEVI
50°N
45°N
40°N
35°N
30°N
25°N
20°N
100°W 95°W 90°W 85°W 80°W 75°W 70°W
0.25
0.20
0.15
0.10
0.05
SDM plot for HUVI
50°N
45°N
40°N
35°N
30°N
125°W 120°W 115°W 110°W 105°W

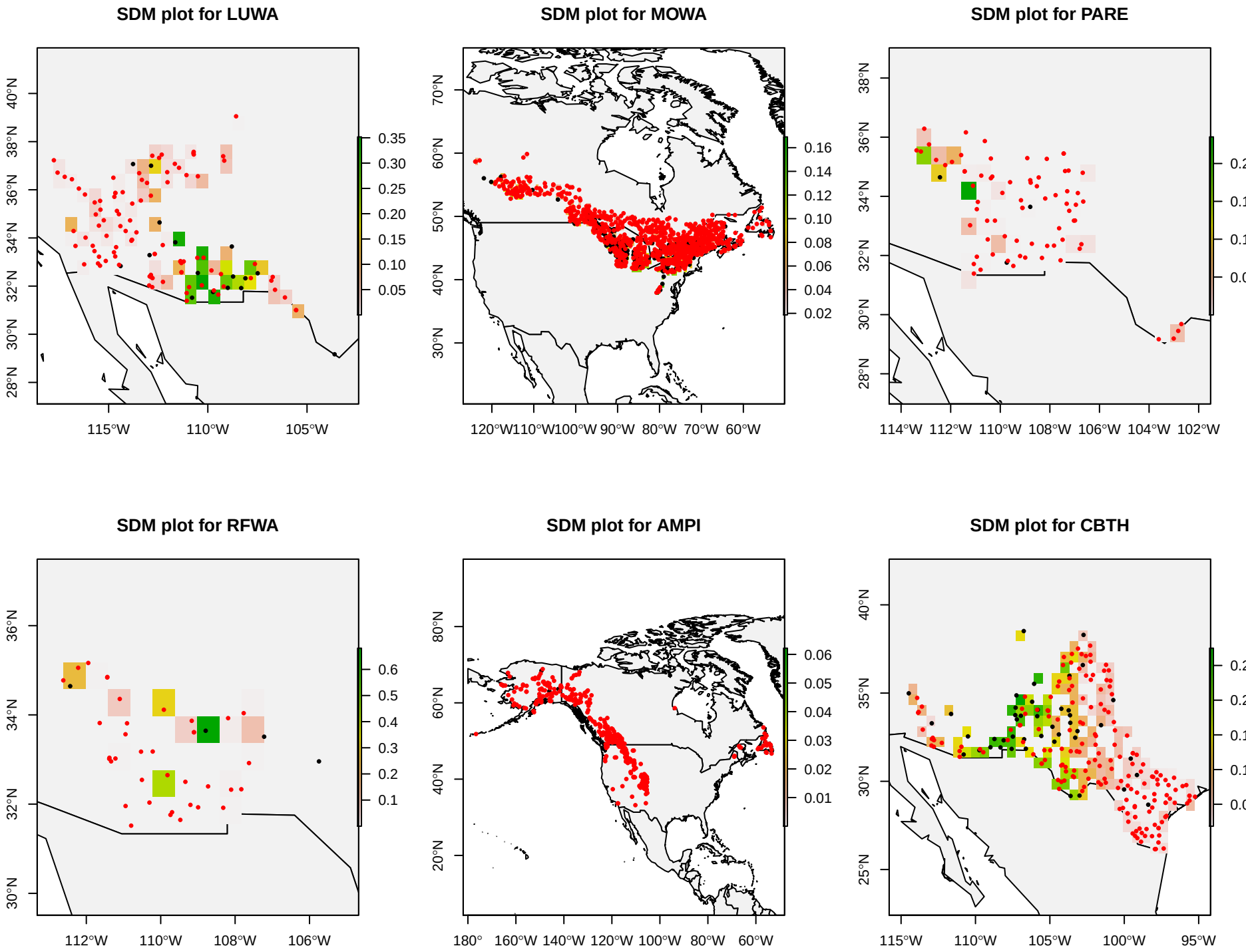
SDM plot for LUWA
40°N
38°N
36°N
34°N
32°N
30°N
28°N
115°W
110°W
105°W
0.35
0.30
0.25
0.20
0.15
0.10
0.05
SDM plot for MOWA
70°N
60°N
50°N
40°N
30°N
120°W
110°W
100°W
90°W
80°W
70°W
60°W
0.16
0.14
0.12
0.10
0.08
0.06
0.04
0.02
SDM plot for PARE
38°N
36°N
34°N
32°N
30°N
28°N
114°W
112°W
110°W
108°W
106°W
104°W
102°W
SDM plot for RFWA
36°N
34°N
32°N
30°N
112°W
110°W
108°W
106°W
0.6
0.5
0.4
0.3
0.2
0.1
SDM plot for AMPI
80°N
60°N
40°N
20°N
180°
160°W
140°W
120°W
100°W
80°W
60°W
0.06
0.05
0.04
0.03
0.02
0.01
SDM plot for CBTH
40°N
35°N
30°N
25°N
115°W
110°W
105°W
100°W
95°W

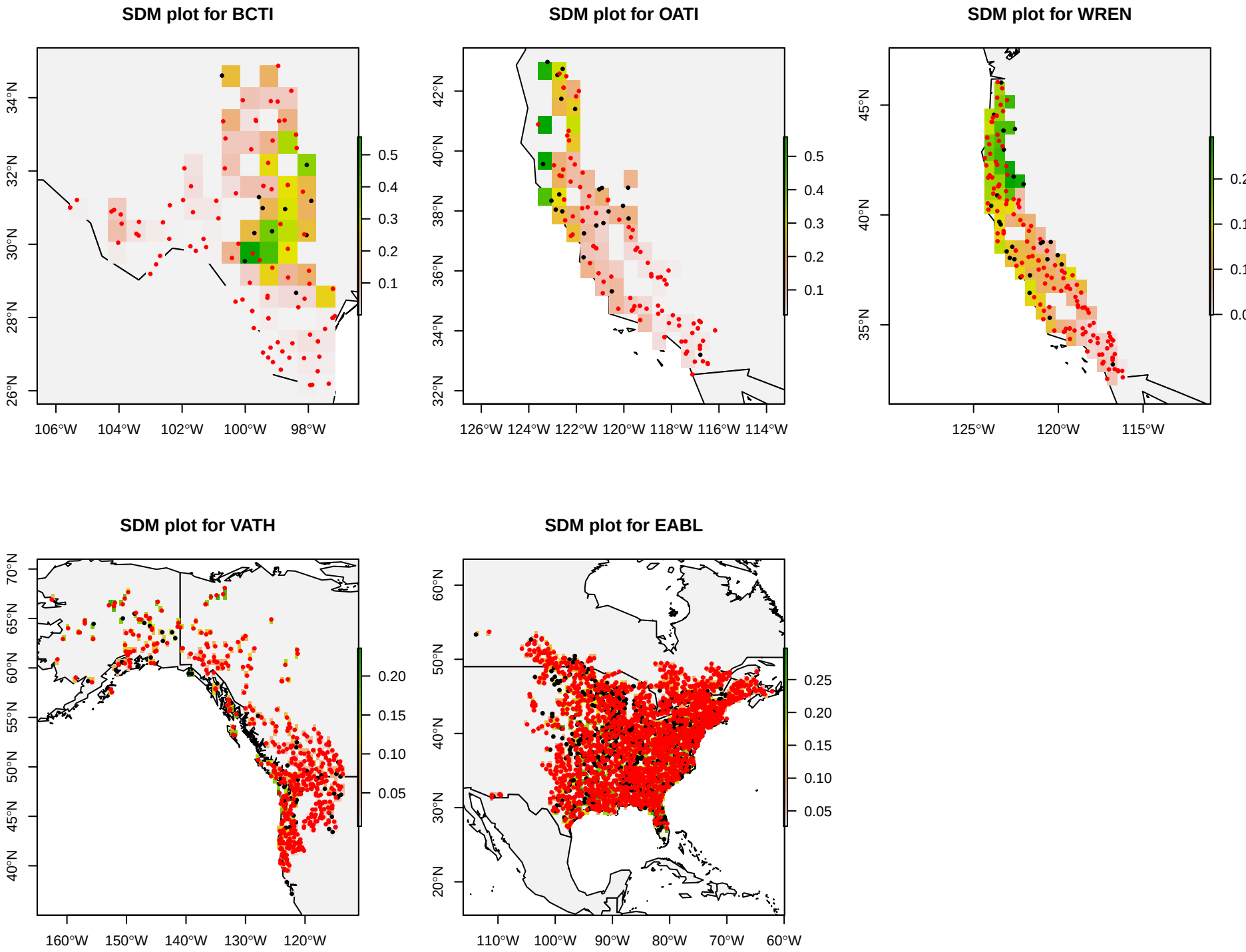
SDM plot for BCTI
34°N
32°N
30°N
28°N
26°N
106°W
104°W
102°W
100°W
98°W
0.5
0.4
0.3
0.2
0.1
SDM plot for OATI
42°N
40°N
38°N
36°N
34°N
32°N
126°W
124°W
122°W
120°W
118°W
116°W
114°W
0.5
0.4
0.3
0.2
0.1
SDM plot for WREN
45°N
40°N
35°N
125°W
120°W
115°W
SDM plot for VATH
70°N
65°N
60°N
55°N
50°N
45°N
40°N
160°W
150°W
140°W
130°W
120°W
0.20
0.15
0.10
0.05
SDM plot for EABL
60°N
50°N
40°N
30°N
20°N
110°W
100°W
90°W
80°W
70°W
60°W
0.25
0.20
0.15
0.10
0.05